Main page for navigation.

includes routes for bikes or walking. Also includes map view.

you can access profile + settings.

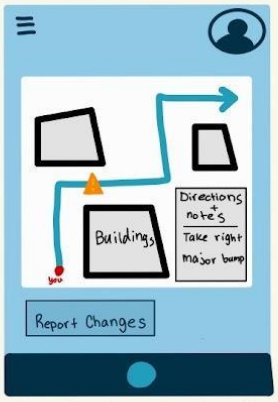

Map that can show hazards + report them.

People can report hazards + post reviews on their route.

they can delete if the issue is fixed.

Verification process is placed to stop false reports.



The user creates an account and is taken to the dashboard. The dashboard allows them to check their reviews, check for nearby parking rails, nearby accessible buildings, settings, places they've bookmarked, and buildings/routes they've submitted as accessible.

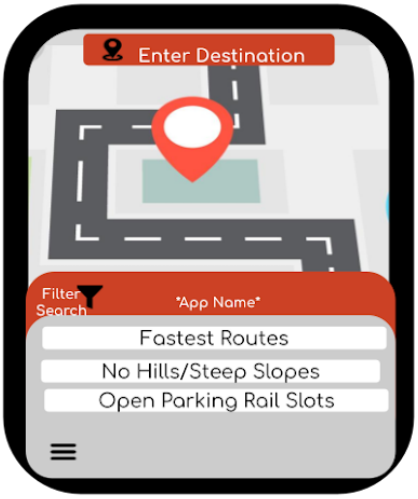

If the user chooses one of the first two buttons, the app takes them to a map where they can enter their destination. The user is able to filter their search based on the quickest routes, if they don't want any hills, and if they're open parking rails available.

Once the user filter's their search, the routes are filtered based off the user's input. The user is able to click the button to use this route or they can check reviews of the route.